4

VICINITY MAP
NOT TO SCALE

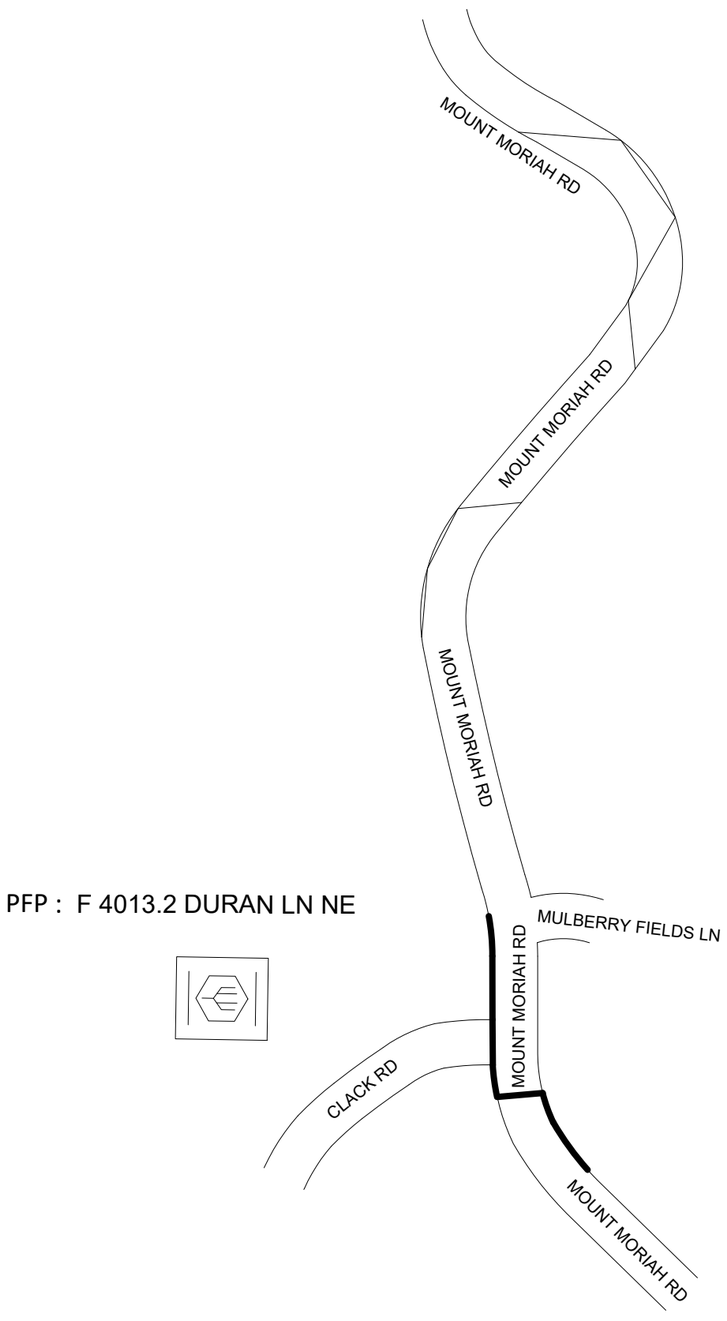

PFP : F 4013.2 DURAN LN NE

SCOPE OF WORK:

ATT TO:
- PL 915 FT OF NEW AERIAL FIBER CABLE
- REPLACE GUYS/ANCHORS

SYMBOL LEGEND

Proposed	Existing	Description
T	T	AERIAL CABLE
B	B	BURIED CABLE
BJ	BJ	BUR JOINT-TRENCH
		BST POLE
		POWER POLE
		ANCHOR & GUY
PB	PB	PUSH BRACE
B	B	ENCLOSURE
		ENCLOSURE
		MANHOLE
		PIPE/CONDUIT
CA-MKR	CA-MKR	CABLE MARKER
		AERIAL SVC WIRE
B	B	BURIED SVC WIRE
BJ	BJ	JOINT-TRENCH SVC
	N/A	BORE
	N/A	CUT PAVEMENT
	N/A	SPLICING PIT
200'@(24")	N/A	TRENCH LEN@DEPTH

GEORGIA811 Utilities Protection Center, Inc
Know what's below. Call before you dig.

CALL BEFORE YOU DIG
GEORGIA DIAL 811 or 1-800-282-7411 www.call811.com
TWO FULL BUS. DAYS BEFORE YOU DIG
IT IS THE CONTRACTORS RESPONSIBILITY TO CONTACT UTILITY COMPANIES PRIOR TO ANY CONSTRUCTION AS THE LOCATION OF UTILITIES SHOWN ON THIS PLAT ARE APPROXIMATE AND POSSIBLY INCOMPLETE. THEREFORE CERTIFICATION TO THE LOCATION OF ALL UNDERGROUND UTILITIES IS WITHHELD.

ALL TRAFFIC CONTROL TO BE HANDLED IN ACCORDANCE WITH THE LATEST APPROVED EDITION OF THE MUTCD

GENERAL NOTE:
RIGHT OF WAY MEASUREMENTS ARE SHOWN APPROXIMATE AND SHOULD BE FIELD VERIFIED PRIOR TO CONSTRUCTION

JACKSON EMC_2		
PROJECT# A05ANEY		DATE SVC REQ'D 07/30/2026
NPANNX 770962	GEO LOC F5618	CLLI LRVLGAOS
PRIMARY ENGR.: HAMLIN, HUSSAIN		
ENGR. ID: HH993E	PERMIT REQ'D.	Y
PHONE#: 4047656822	PRINT 1 OF 4	

AT&T Proprietary (Internal Use Only.) Not for disclosure outside the AT&T family of companies except under written agreement.

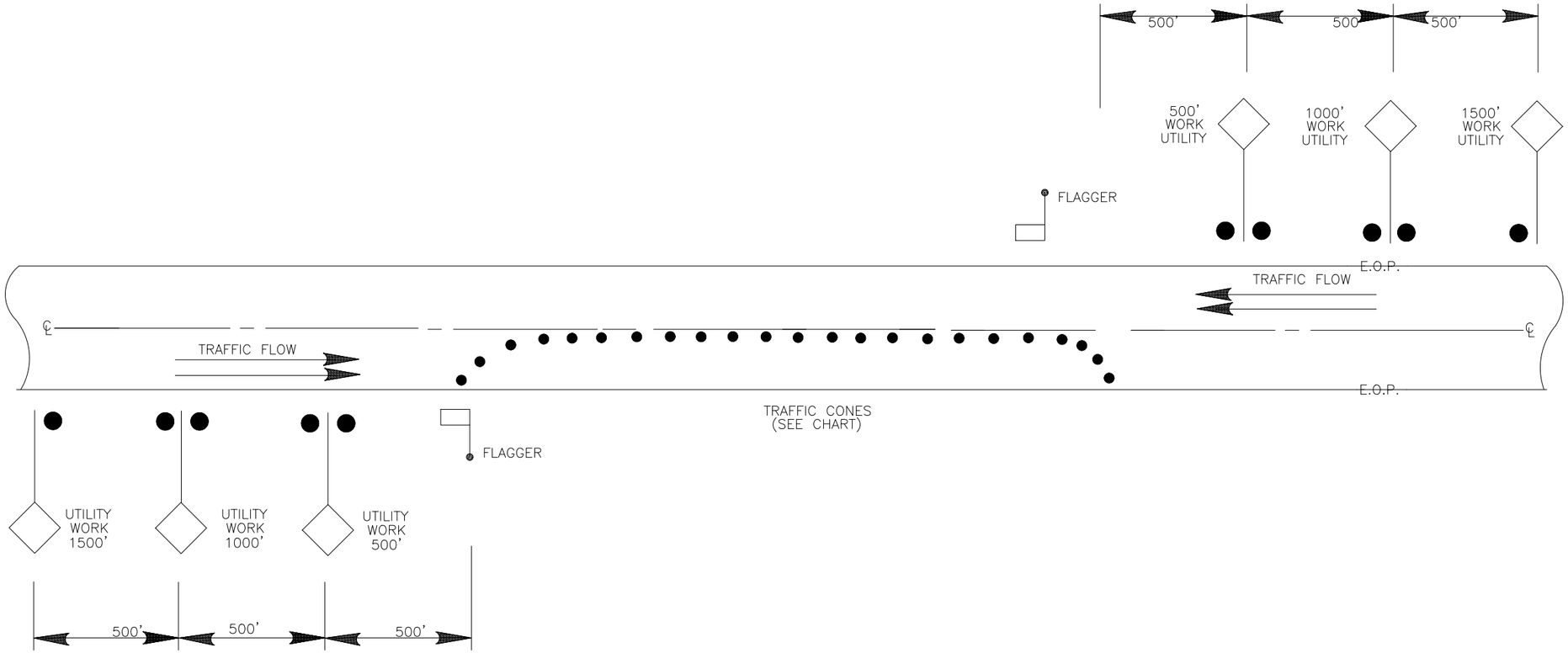

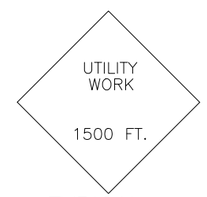

TYPICAL

SIGNS TO BE 48" x 48" W / BLACK LETTERS ON ORANGE BACKGROUND

SPACING FOR CONES

POSTED TRAFFIC SPEED (M.P.H.)	CONE SPACING (FEET)
15 OR UNDER	10'
20	20'
25	25'
30	30'
35	35'
40	40'
45 OR ABOVE	SAME AS POSTED SPEED

NOTE:

SIGNS TO BE PLACED ON PORTABLE STANDS WITH SAND BAGS TO PREVENT BLOWING OVER & WITH TYPE "B" FLASHER SIGNS TO BE PLACED ON SHOULDER

A CERTIFIED FLAGMAN OR POLICEMAN WILL BE EMPLOYED TO DIRECT TRAFFIC FLOW AT EACH WORK LOCATION.

SAFETY FIRST !

JACKSON EMC_2		
PROJECT# A05ANEY		DATE SVC REQ'D 07/30/2026
NPANNX 770962	GEO LOC F5618	CLLI LRVLGAOS
PRIMARY ENGR.: HAMLIN, HUSSAIN		
ENGR. ID: HH993E	PERMIT REQ'D.	Y
PHONE#: 4047656822	PRINT 2 OF 4	

AT&T Proprietary (Internal Use Only.) Not for disclosure outside the AT&T family of companies except under written agreement.

6 PROPOSED 352' 24CT AERIAL FIBER CABLE / O.D.= .48 INCH / .087 LBS/FT

7 PROPOSED 563' 24CT AERIAL FIBER CABLE / O.D.= .48 INCH / .087 LBS/FT

90 EXISTING 10M AERIAL FIBER CABLE

92 EXISTING BHAA-50 / O.D.= .69 INCH / .29 LBS/FT

93 EXISTING BHAA-200 / O.D.= 1.12 INCH / .71 LBS/FT

94 EXISTING AT3492MT-072RWP-50 / O.D.= INCH / LBS/FT

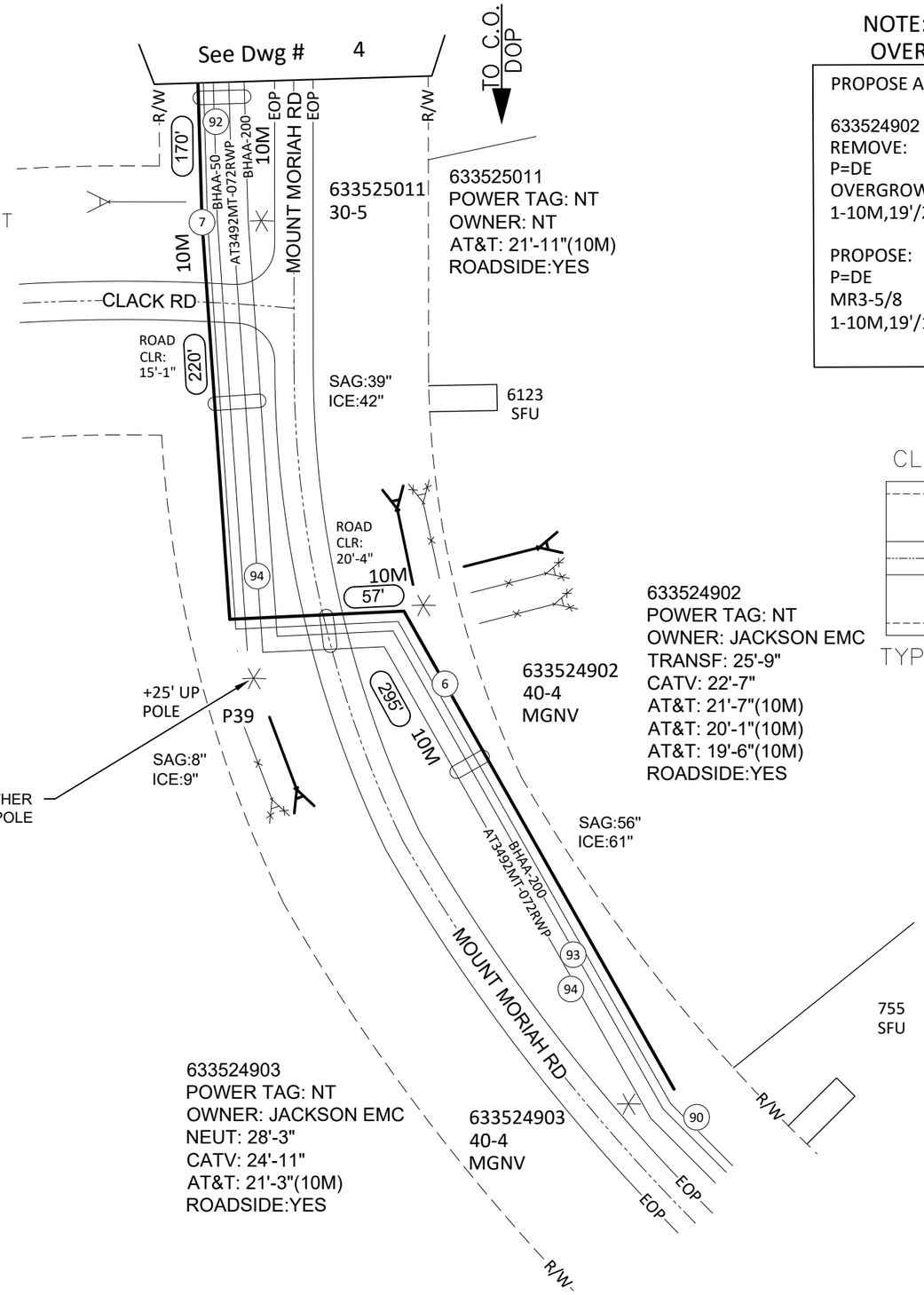

NOTE:ANCHOR OVERGROWN

PROPOSE ANCHOR & GUY

633524902
REMOVE:
P=DE
OVERGROWN
1-10M,19'/20'

PROPOSE:
P=DE
MR3-5/8
1-10M,19'/19'

NOTE:ANCHOR OVERGROWN

PROPOSE ANCHOR & GUY

633524902
REMOVE:
P=DE
OVERGROWN
1-10M,15'/20'

PROPOSE:
P=DE
MR1-1
2-10M,14'/20'

NOTE:ANCHOR OVERGROWN

PROPOSE ANCHOR & GUY

P 39
REMOVE:
P=DE
OVERGROWN
1-10M,17'/22'

PROPOSE:
P=DE
MR1-1
2-10M,16'/22'

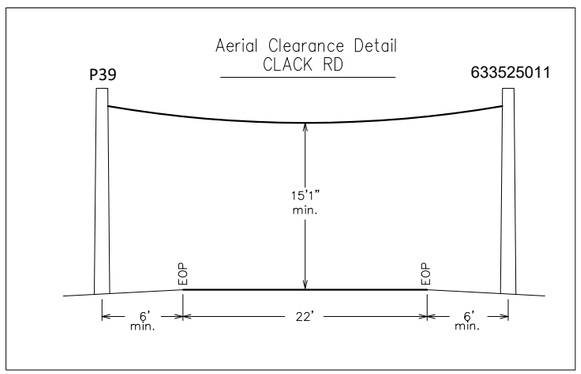

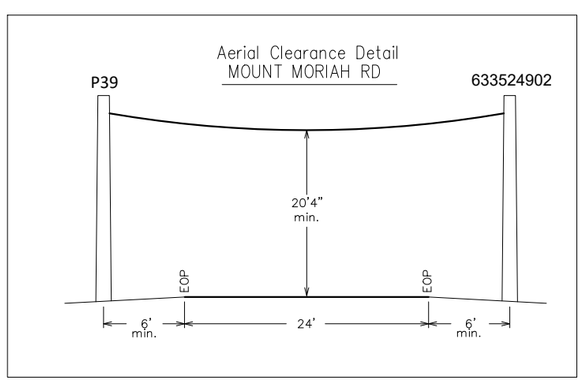

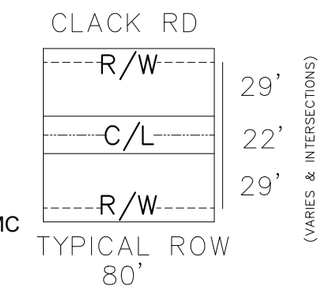

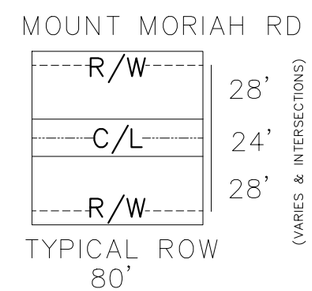

CAUTION:
301V - 15KV TO GRND

JACKSON EMC_2		
PROJECT# A05ANEY		DATE SVC REQ'D 07/30/2026
NPANNX 770962	GEO LOC F5618	CLLI LRVLGAOS
PRIMARY ENGR.: HAMLIN, HUSSAIN		
ENGR. ID: HH993E		PERMIT REQ'D. Y
PHONE#: 4047656822		PRINT 3 OF 4

AT&T Proprietary (Internal Use Only.) Not for disclosure outside the AT&T family of companies except under written agreement.

4

(7) PROPOSED 24CT AERIAL FIBER CABLE / O.D.= .48 INCH / .087 LBS/FT

(90) EXISTING 10M AERIAL FIBER CABLE

(92) EXISTING BHAA-50 / O.D.= .69 INCH / .29 LBS/FT

(93) EXISTING BHAA-200 / O.D.= 1.12 INCH / .71 LBS/FT

(94) EXISTING AT3492MT-072RWP-50 / O.D.= INCH / LBS/FT

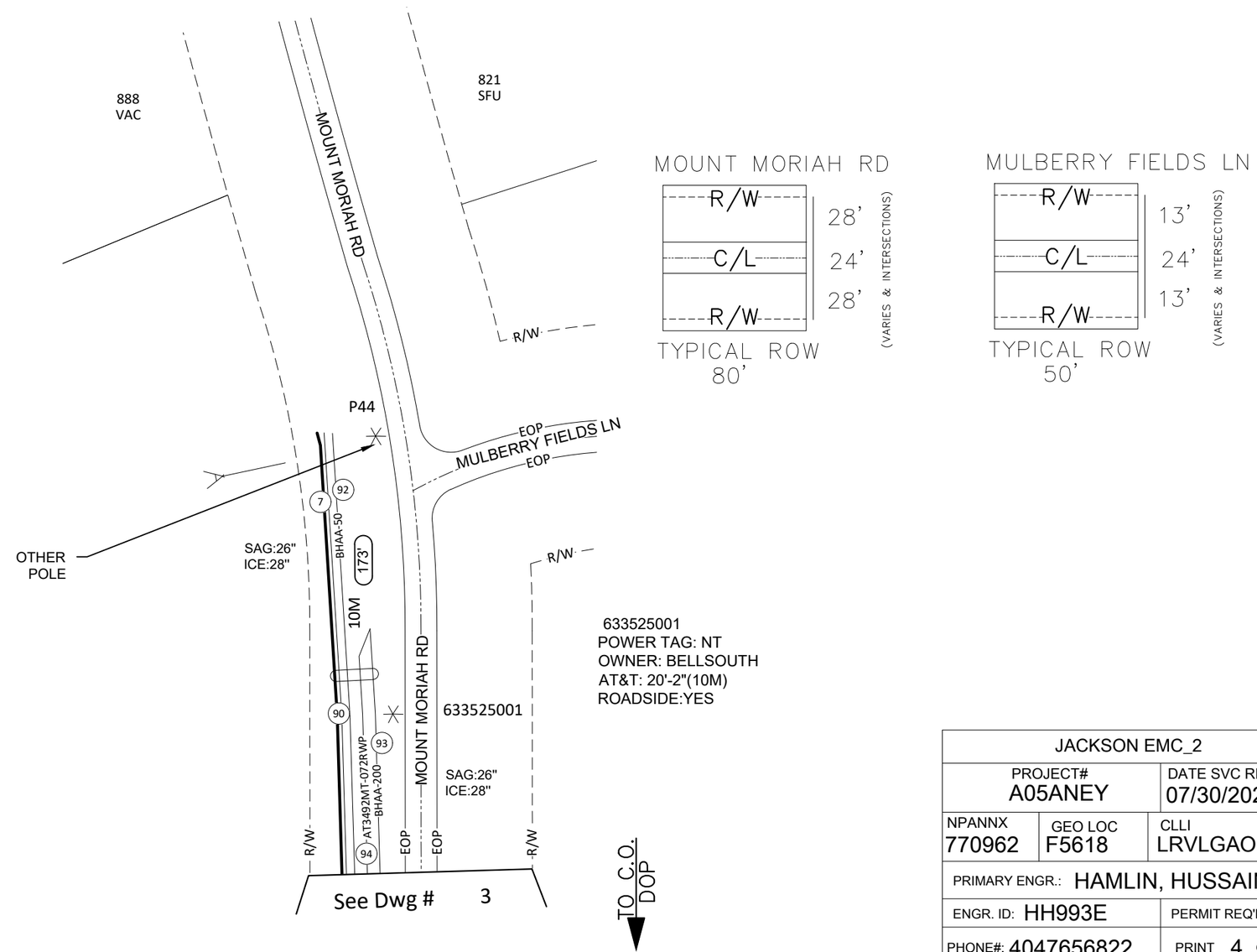

CAUTION:
301V - 15KV TO GRND

JACKSON EMC_2		
PROJECT# A05ANEY		DATE SVC REQ'D 07/30/2026
NPANNX 770962	GEO LOC F5618	CLLI LRVLGAOS
PRIMARY ENGR.: HAMLIN, HUSSAIN		
ENGR. ID: HH993E	PERMIT REQ'D.	Y
PHONE#: 4047656822	PRINT 4 OF 4	

AT&T Proprietary (Internal Use Only.) Not for disclosure outside the AT&T family of companies except under written agreement.